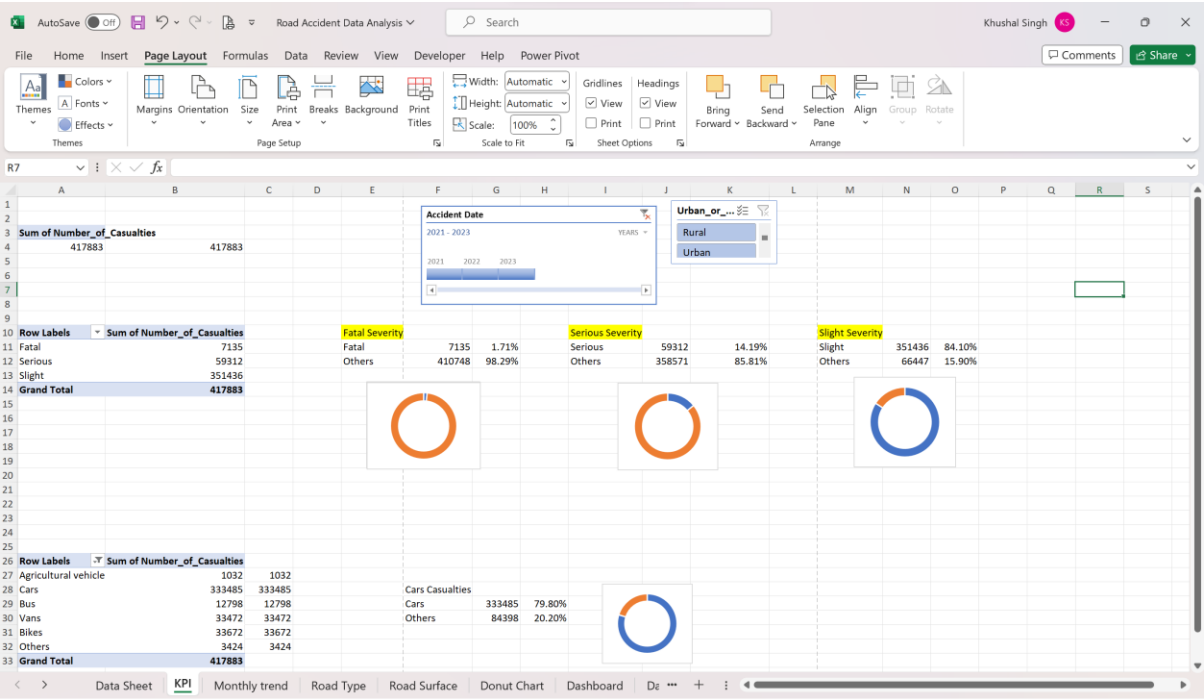

Sum of Number_of_Casualties	
417883	417883

Row Labels	Sum of Number_of_Casualties
Fatal	7135
Serious	59312
Slight	351436
Grand Total	417883

Fatal Severity		
Fatal	7135	1.71%
Others	410748	98.29%

Serious Severity		
Serious	59312	14.19%
Others	358571	85.81%

Slight Severity		
Slight	351436	84.10%
Others	66447	15.90%

Row Labels	Sum of Number_of_Casualties	
Agricultural vehicle	1032	1032
Cars	333485	333485
Bus	12798	12798
Vans	33472	33472
Bikes	33672	33672
Others	3424	3424
Grand Total	417883	

Cars Casualties		
Cars	333485	79.80%
Others	84398	20.20%

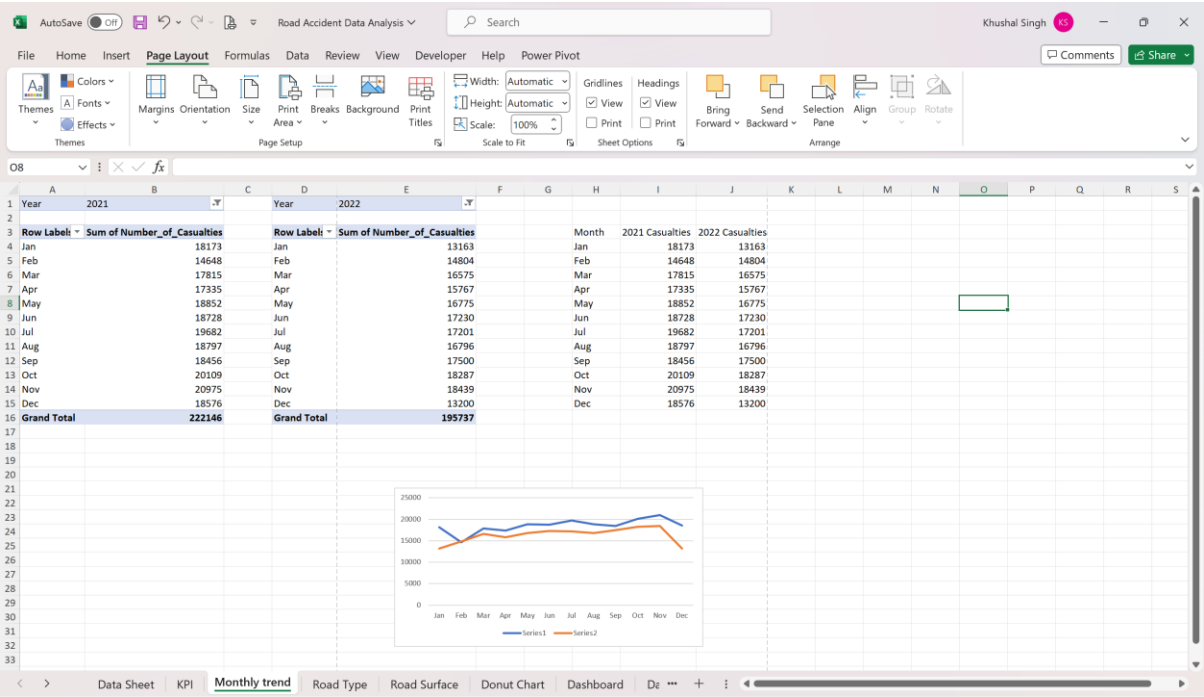

Year	2021
Row Labels	Sum of Number_of_Casualties
Jan	18173
Feb	14648
Mar	17815
Apr	17335
May	18852
Jun	18728
Jul	19682
Aug	18797
Sep	18456
Oct	20109
Nov	20975
Dec	18576
Grand Total	222146

Year	2022
Row Labels	Sum of Number_of_Casualties
Jan	13163
Feb	14804
Mar	16575
Apr	15767
May	16775
Jun	17230
Jul	17201
Aug	16796
Sep	17500
Oct	18287
Nov	18439
Dec	13200
Grand Total	195737

Month	2021 Casualties	2022 Casualties
Jan	18173	13163
Feb	14648	14804
Mar	17815	16575
Apr	17335	15767
May	18852	16775
Jun	18728	17230
Jul	19682	17201
Aug	18797	16796
Sep	18456	17500
Oct	20109	18287
Nov	20975	18439
Dec	18576	13200

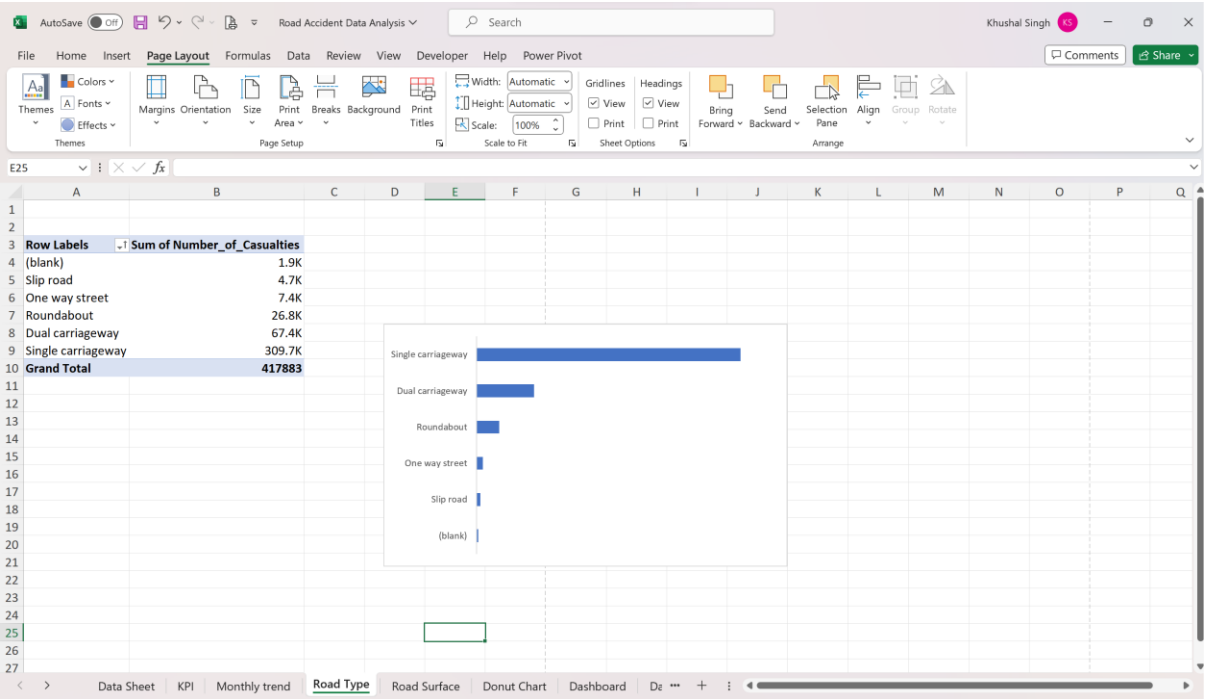
Road Accident Data Analysis
Row Labels
Sum of Number_of_Casualties
(blank) 1.9K
Slip road 4.7K
One way street 7.4K
Roundabout 26.8K
Dual carriageway 67.4K
Single carriageway 309.7K
Grand Total 417883
Single carriageway
Dual carriageway
Roundabout
One way street
Slip road
(blank)
Data Sheet
KPI
Monthly trend
Road Type
Road Surface
Donut Chart
Dashboard

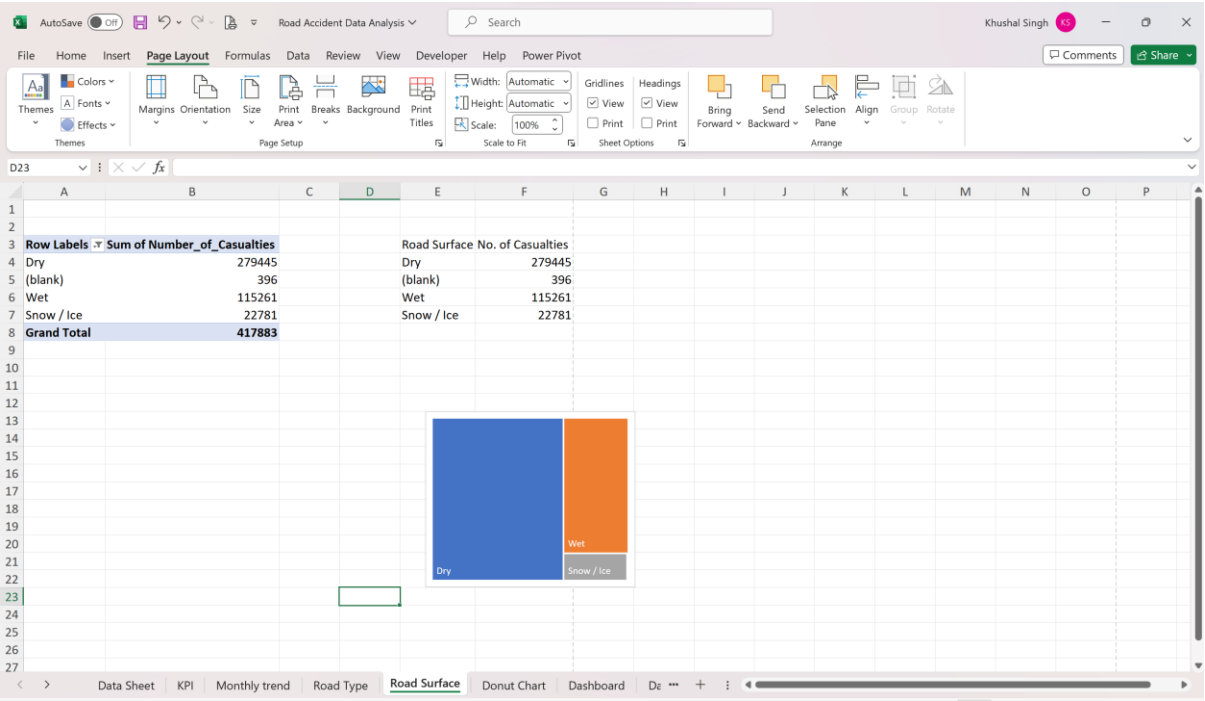
Road Accident Data Analysis
Row Labels
Sum of Number_of_Casualties
Dry 279445
(blank) 396
Wet 115261
Snow / Ice 22781
Grand Total 417883
Road Surface
No. of Casualties
Dry 279445
(blank) 396
Wet 115261
Snow / Ice 22781
Dry
Wet
Snow / Ice
Data Sheet
KPI
Monthly trend
Road Type
Road Surface
Donut Chart
Dashboard

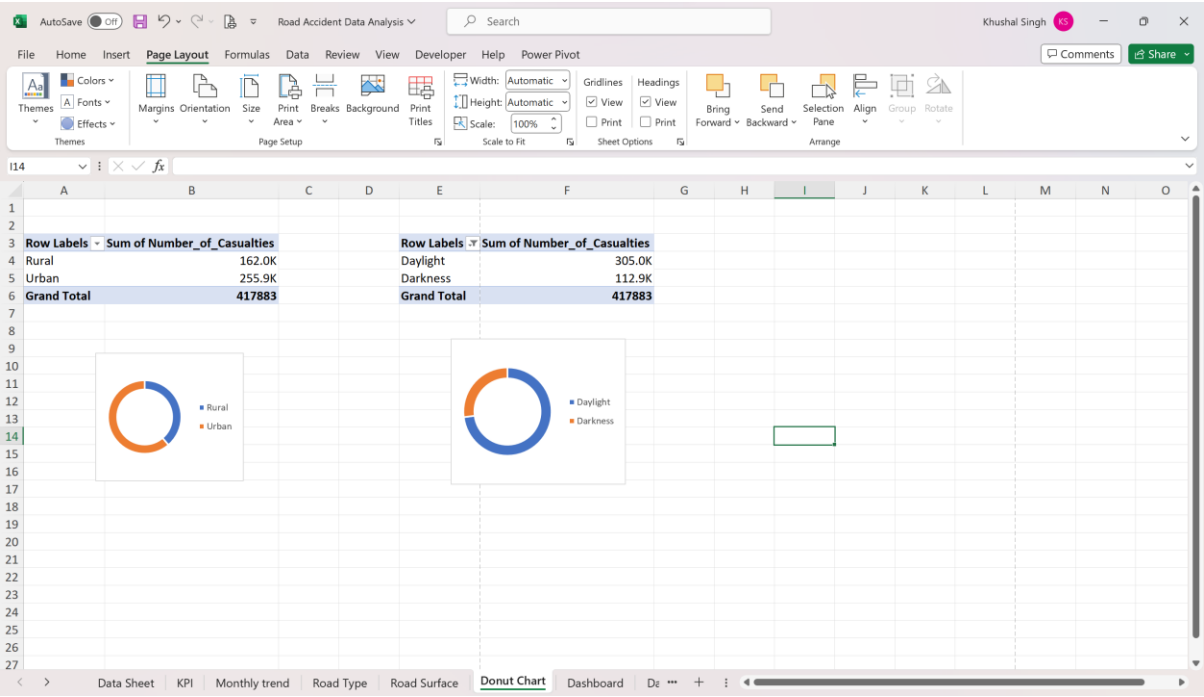
Road Accident Data Analysis
Row Labels | Sum of Number_of_Casualties
Rural | 162.0K
Urban | 255.9K
Grand Total | 417883
Row Labels | Sum of Number_of_Casualties
Daylight | 305.0K
Darkness | 112.9K
Grand Total | 417883
Rural
Urban
Daylight
Darkness
Data Sheet
KPI
Monthly trend
Road Type
Road Surface
Donut Chart
Dashboard

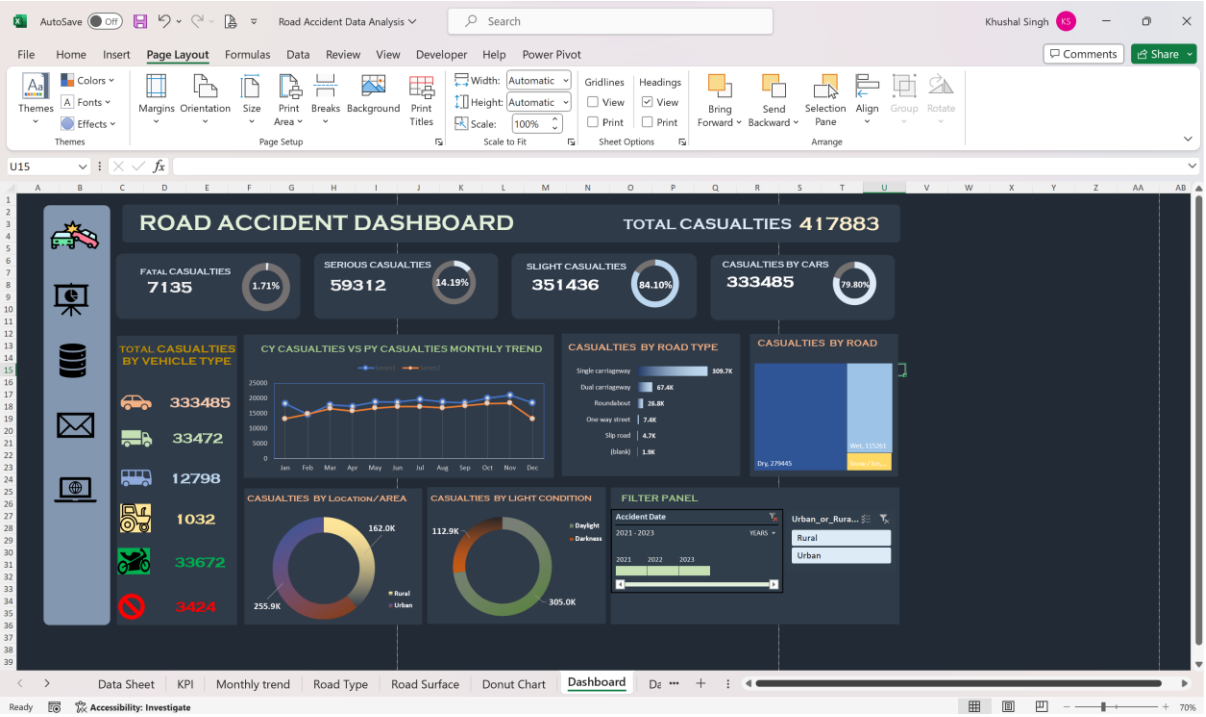
ROAD ACCIDENT DASHBOARD
TOTAL CASUALTIES 417883
FATAL CASUALTIES 7135 1.71%
SERIOUS CASUALTIES 59312 14.19%
SLIGHT CASUALTIES 351436 84.10%
CASUALTIES BY CARS 333485 79.80%
TOTAL CASUALTIES BY VEHICLE TYPE
333485
33472
12798
1032
33672
3424
CY CASUALTIES VS PY CASUALTIES MONTHLY TREND
CASUALTIES BY ROAD TYPE
CASUALTIES BY ROAD
CASUALTIES BY LOCATION/AREA
162.0K
255.9K
CASUALTIES BY LIGHT CONDITION
112.9K
305.0K
FILTER PANEL
Accident Date
2021 - 2023
Rural
Urban
Data Sheet
KPI
Monthly trend
Road Type
Road Surface
Donut Chart
Dashboard

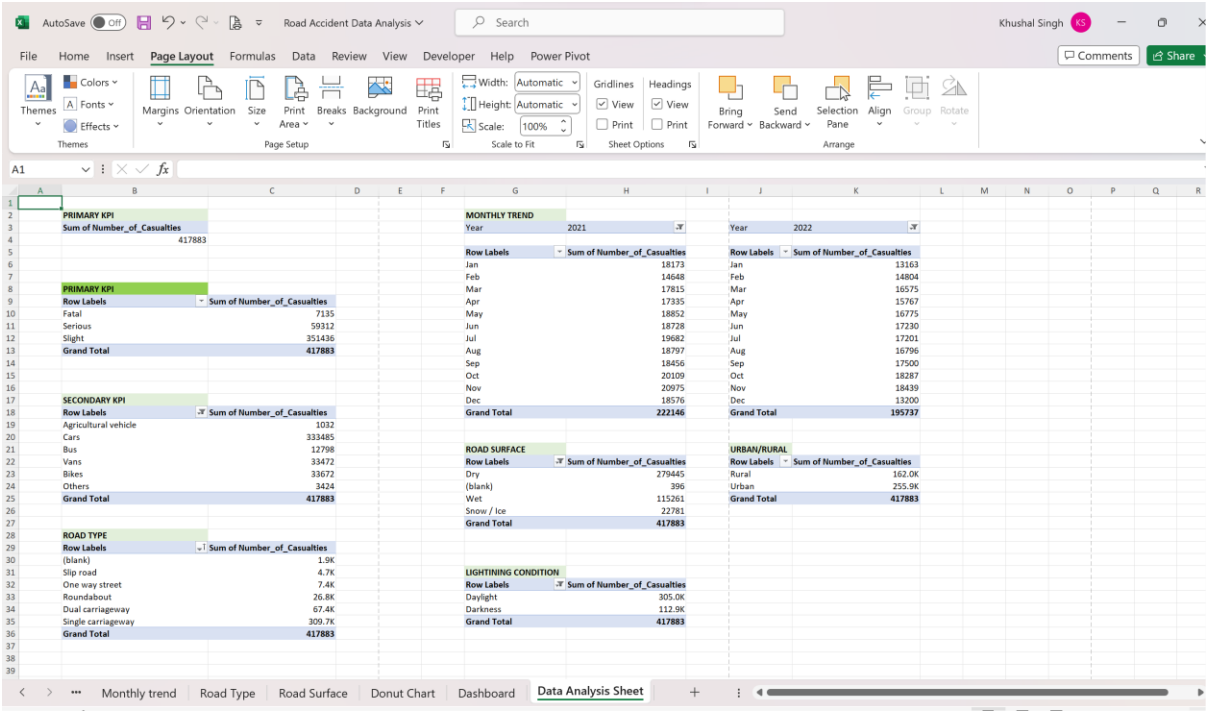

PRIMARY KPI

Sum of Number_of_Casualties
417883

PRIMARY KPI

Row Labels	Sum of Number_of_Casualties
Fatal	7135
Serious	59312
Slight	351436
Grand Total	**417883**

SECONDARY KPI

Row Labels	Sum of Number_of_Casualties
Agricultural vehicle	1032
Cars	333485
Bus	12798
Vans	33472
Bikes	33672
Others	3424
Grand Total	**417883**

ROAD TYPE

Row Labels	Sum of Number_of_Casualties
(blank)	1.9K
Slip road	4.7K
One way street	7.4K
Roundabout	26.8K
Dual carriageway	67.4K
Single carriageway	309.7K
Grand Total	**417883**

MONTHLY TREND

Year	2021
Row Labels	**Sum of Number_of_Casualties**
Jan	18173
Feb	14648
Mar	17815
Apr	17335
May	18852
Jun	18728
Jul	19682
Aug	18797
Sep	18456
Oct	20109
Nov	20975
Dec	18576
Grand Total	**222146**

Year	2022
Row Labels	**Sum of Number_of_Casualties**
Jan	13163
Feb	14804
Mar	16575
Apr	15767
May	16775
Jun	17230
Jul	17201
Aug	16796
Sep	17500
Oct	18287
Nov	18439
Dec	13200
Grand Total	**195737**

ROAD SURFACE

Row Labels	Sum of Number_of_Casualties
Dry	279445
(blank)	396
Wet	115261
Snow / Ice	22781
Grand Total	**417883**

URBAN/RURAL

Row Labels	Sum of Number_of_Casualties
Rural	162.0K
Urban	255.9K
Grand Total	**417883**

LIGHTINING CONDITION

Row Labels	Sum of Number_of_Casualties
Daylight	305.0K
Darkness	112.9K
Grand Total	**417883**